SOLINFTEC

Changelog

SGPA3
Automated Process Management System

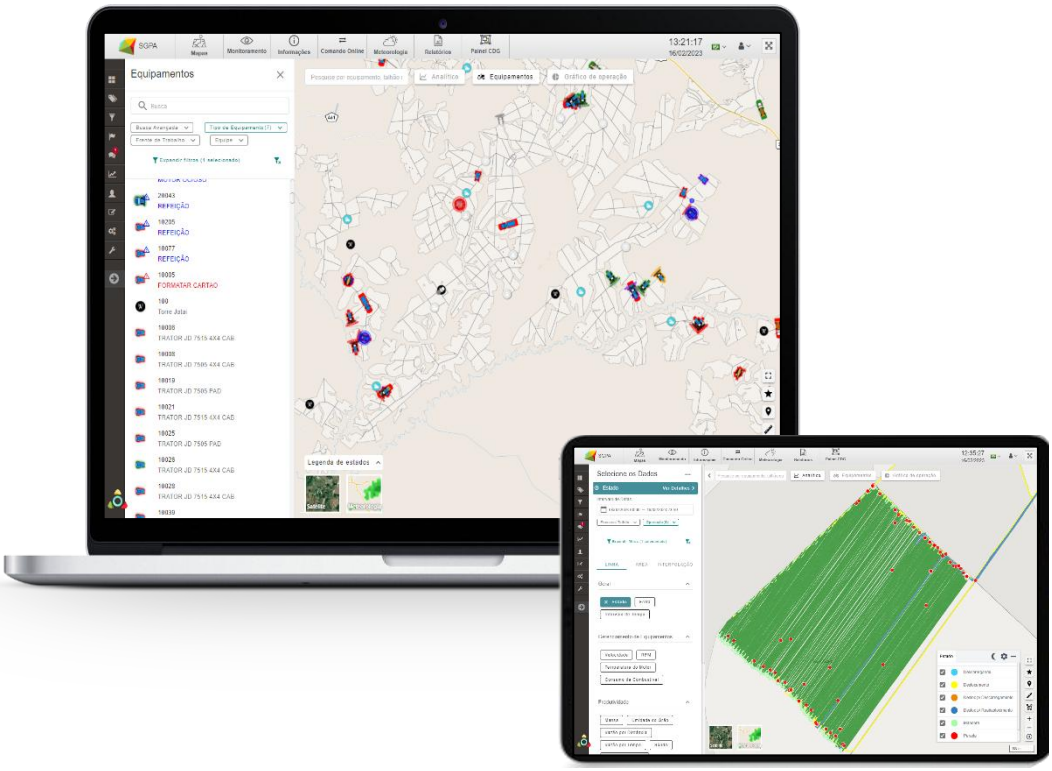

Changelog Version 2026/276

Period: 01/20/2026 to 02/09/2026

Revision 00

Date: 03/24/2026

Some applications mentioned in this report may not be available in the package of functionalities installed in your SGPA 3.0

+55 (18) 3622-2270
Av. Brasília, 2.121 - Edif. New York Tower
Jardim Nova York - Araçatuba/SP

Thank you for being a SGPA 3.0 user!

We update our system frequently to fix bugs, improve performance, and add new features to enable a better user experience and contribute to management with higher quality and efficiency.

+55 (18) 3622-2270
Av. Brasília, 2.121 - Edif. New York Tower
Jardim Nova York - Araçatuba/SP

Summary

1. SGPA3 4
1.1 Specific Enhancements 4
1.1.1 PBI Report – Operational Dairy Report 4
1.1.2 PBI Report – Climate x Operation 4
1.1.3 PBI Report – Climate x Operation 5
1.1.4 PBI Report – Dynamic Report 6
1.1.5 PBI Report – Fleet Details Report 7
1.1.6 PBI Report – Online Operational Variables Report 8
1.1.7 PBI Report – Operational Variables Report 8
1.1.8 PBI Report – Tipping 9
1.1.9 PBI Report – Worked Area (Date Filter) 11
1.1.10 PBI Report – Worked Area 11
1.1.11 PBI Report – Operational Diary 12
1.1.12 PBI Report – Operational Achievement 13
1.1.13 Weather Map – Weather Graph 13
1.1.14 PBI Report Scheduler V2 – CCT Report 15
1.1.15 MONIT+ – Translation 16
1.1.16 Analytical Map – Torque Map 17
2.1 Bugs 17
2.1.1 PBI Reports – Harvest Planning 17
2.1.2 PBI Reports – Fertigation Notes 18
2.1.3 PBI Reports – Load Profile 18
2.1.4 PBI Report Scheduler V2 – Operational Map 18
2.1.5 PBI Report Scheduler V2 – Report Type 19
2.1.6 PBI Report Scheduler V2 – Report Details 19

2.1.7 PBI Report Scheduler V2 - Date 19
2.1.8 Online Command 19
2.1.9 Analytical Map – Fertigation Irrigation 20
2.1.10 Analytical Map – Trace Failures in TPL 20
2.1.11 Analytical Map – Solids – Calibration Factor 20
2.1.12 Tools – Operator Sheet 22
2.1.13 Alarms - Justification 23

1. SGPA3

1.1 Specific Enhancements

1.1.1 PBI Report – Operational Dairy Report

Improvement of the "Operational Diary" PBI report in the "Production" tab to allow the "Goal Operating Area (ha)" to accept 1-in-1 incremental values in the range of 1 to 100.

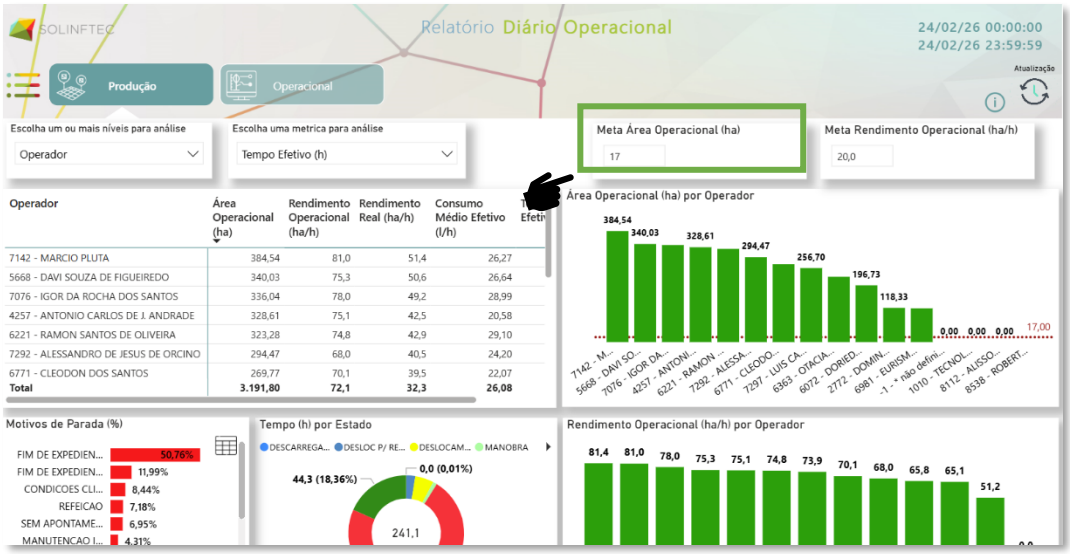

Figure 1 – Target Operational Area (ha) in the Operational Daily PBI Report.

Accessed in: Side Menu > Reports > PBI > Operational Reports > Operational Diary

Available for Vertical Grains Environments

1.1.2 PBI Report – Climate x Operation

Improvement made to the PBI Report "Climate x Operation" within the Climate x Operation tab, to include four new options for selection at the Farm, **Zone, Field,** and **Hour analysis levels.**

+55 (18) 3622-2270
Av. Brasília, 2.121 - Edif. New York Tower
Jardim Nova York - Araçatuba/SP

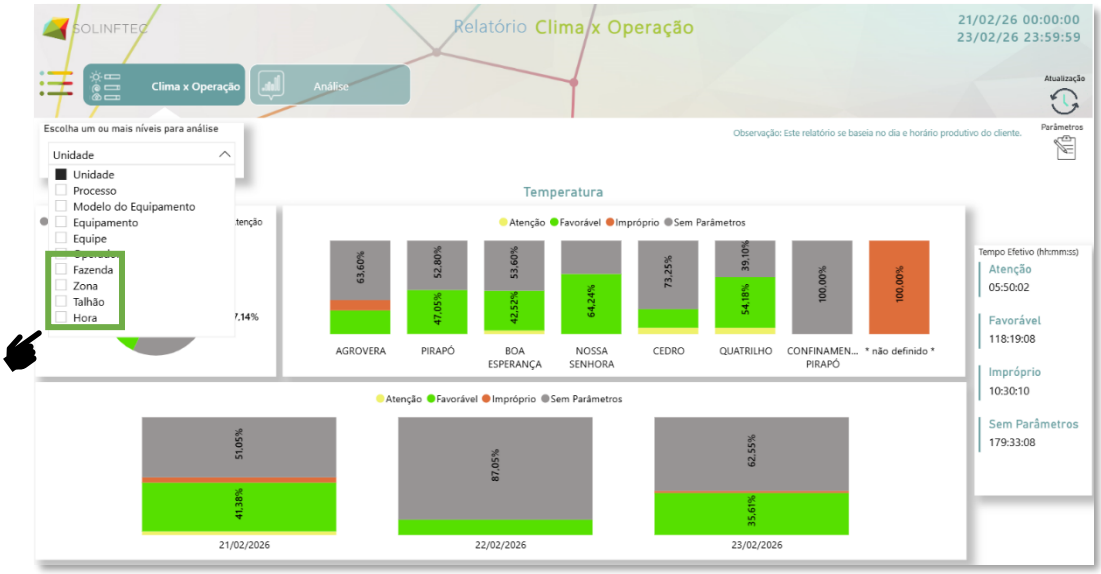

Figure 2 – PBI Climate x Operation Report.

Access in: Side Menu > PBI > Reports > Climate > Weather x Operation Reports > Weather x Operation Tab

Available for Environments that have the "Climate" solution active.

1.1.3 PBI Report – Climate x Operation

In the PBI Report "Climate x Operation" within the "Analysis" tab, the "**Equipment that recorded rainfall" button was implemented**, which displays rainfall values calculated only with equipment where there were rainfall records, and the "**All equipment**" button, which displays graphs with rainfall values calculated considering all equipment, even those that do not have rainfall records.

+55 (18) 3622-2270
Av. Brasília, 2.121 - Edif. New York Tower
Jardim Nova York - Araçatuba/SP

Figure 3 – Analysis tab of the PBI Climate x Operation Report.

Access in: Side Menu > Reports > PBI > Reports Climate > Weather x Operation > Analysis Tab

Available for Environments that have the "Climate" solution active.

1.1.4 PBI Report – Dynamic Report

Improvement made in the PBI Report "Dynamic Report" of the perennial vertical the inclusion of the selection options of the **Year** and **Month/Year** analysis levels, being now possible to group the information referring to these fields by the previously selected date.

+55 (18) 3622-2270
Av. Brasília, 2.121 - Edif. New York Tower
Jardim Nova York - Araçatuba/SP

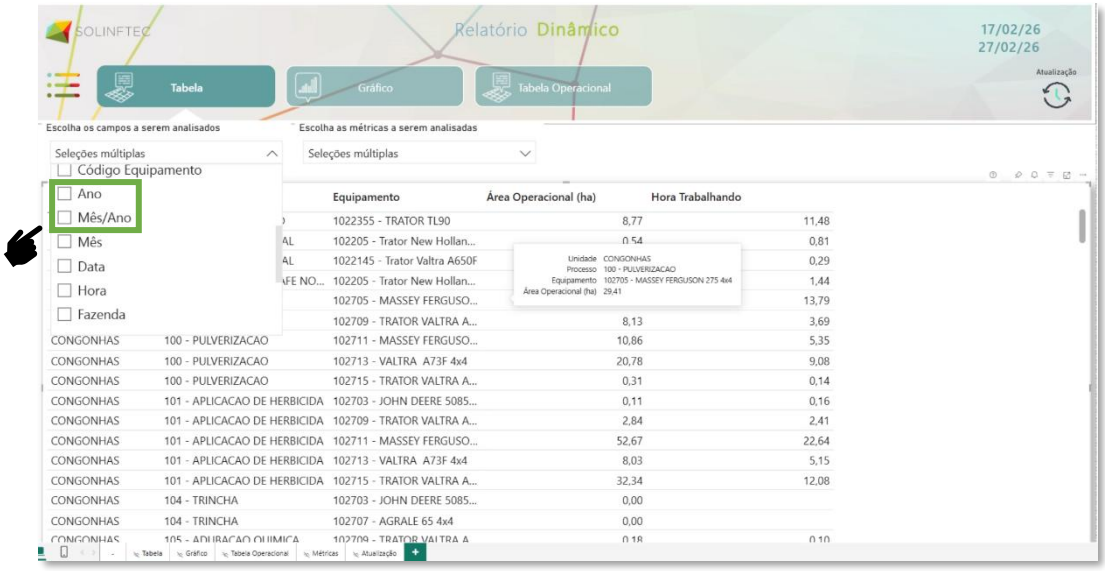

Figure 4 – Dynamic Report

Access in: Side Menu > Reports > PBI > Dynamic Report> Table Tab

Available for Perennial Vertical Environments

1.1.5 PBI Report – Fleet Details Report

The "Table" tab of the report for the Grains, Sugarcane and Perennials verticals has been improved, now when you hover over a line, you can quickly view the **Area Worked on the Day (ha),** based on the data displayed (Date, Unit, Farm, Zone, Field, Equipment, Operator and Process).

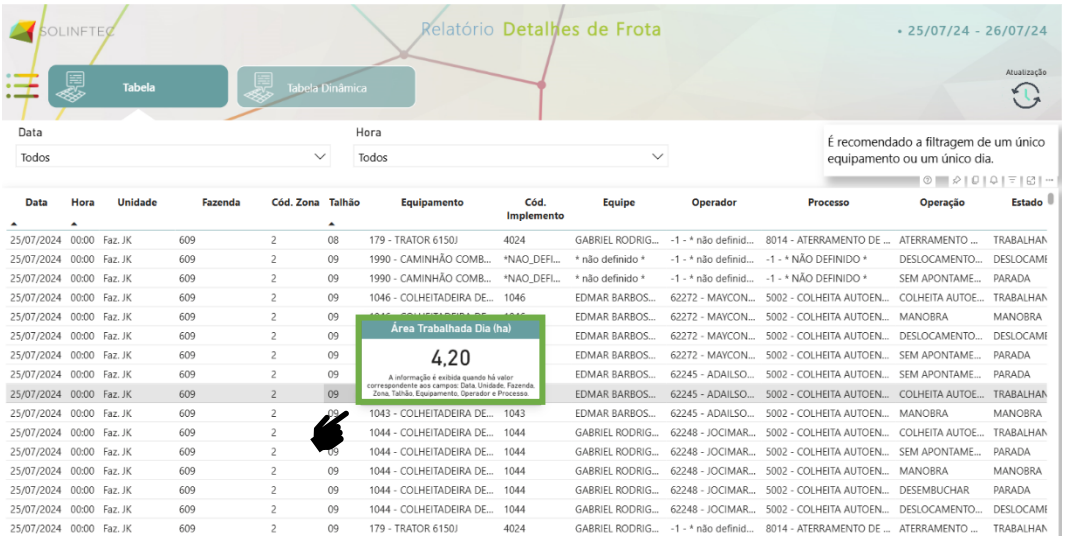

Figure 5 – PBI Fleet Details Report

+55 (18) 3622-2270
Av. Brasília, 2.121 - Edif. New York Tower
Jardim Nova York - Araçatuba/SP

Access in: Side Menu > PBI > Reports > Fleet Details Report > Table Tab

1.1.6 PBI Report – Online Operational Variables Report

A new "Front" **filter was implemented** in the PBI report of "Online Operational Variables" of the Sugarcane vertical, for all tabs of the report (Dashboard, Operational Hours, Vel. Average km/h, Stopped with Engine Running, Efficiency Analysis, RTK Utilization) except for the table tab.

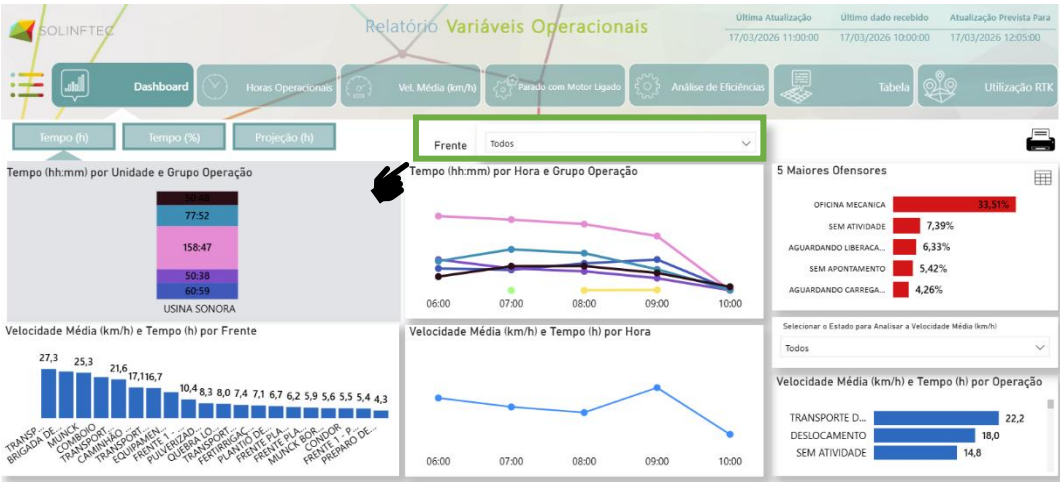

Figure 6 – PBI Fleet Details Report

Access in: Side Menu > Reports > PBI > Online Reports > Online Operational Variables > Dashboard Tab

Available for Sugarcane Vertical Environments

1.1.7 PBI Report – Operational Variables Report

A new "FZT" **filter was implemented in the PBI report of the "Operational Variables Report" of the sugarcane vertical,** to filter the information by Farm, Zone and Field.

+55 (18) 3622-2270
Av. Brasília, 2.121 - Edif. New York Tower
Jardim Nova York - Araçatuba/SP

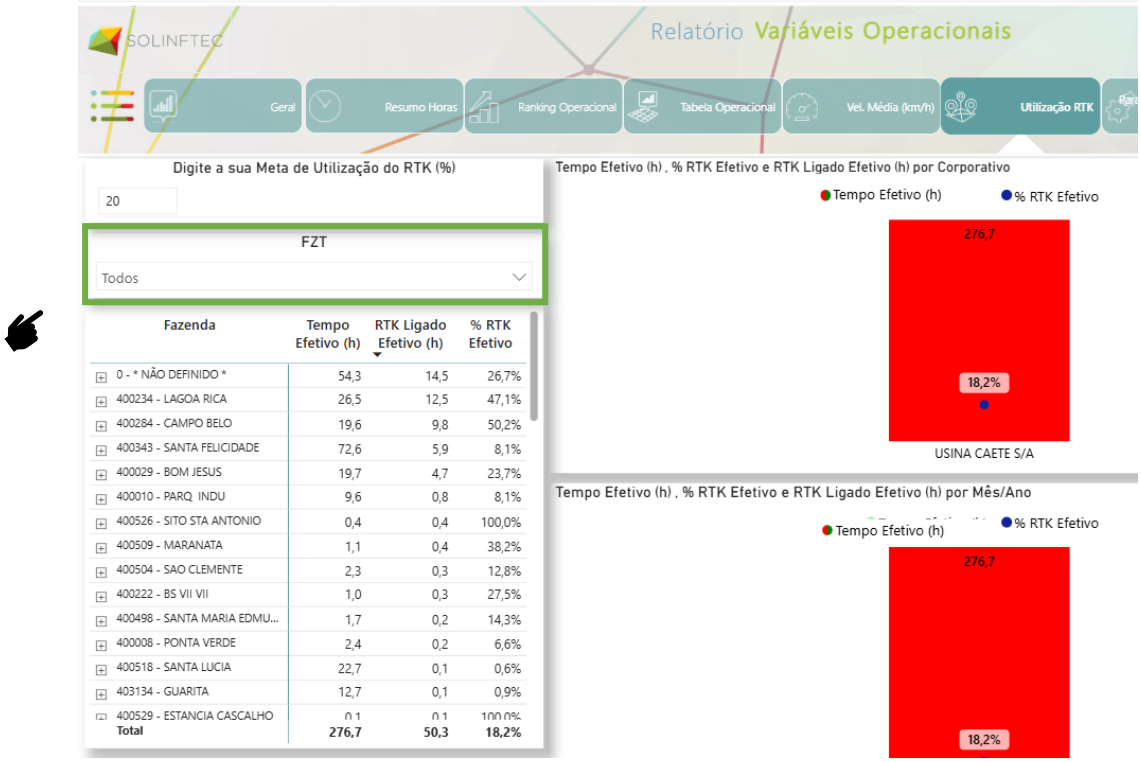

Figure 7 – New FZT Filter in the Operational Variables Report

Access in: Side Menu > Reports > PBI > Operational Reports > Operational Variables > RTK Utilization Tab

Available for Sugarcane Vertical Environments

1.1.8 PBI Report – Tipping

Improvement made in the PBI Report "Tipping" The Farm code and the Process code, concatenated with the respective descriptions, were included in the data display on the report table.

+55 (18) 3622-2270
Av. Brasília, 2.121 - Edif. New York Tower
Jardim Nova York - Araçatuba/SP

Figure 8 – PBI Tipping Report

Figure 9 – PBI Tipping Report

Access in: Side Menu > PBI > Reports > Tipper Report

Available for Sugarcane Vertical Environments

+55 (18) 3622-2270
Av. Brasília, 2.121 - Edif. New York Tower
Jardim Nova York - Araçatuba/SP

1.1.9 PBI Report – Worked Area (Date Filter)

Improvement made in the PBI Report "Worked Area" for the inclusion of the "Date" option in the field "Choose one or more levels of Analysis", to be able to perform data analysis from the selected date.

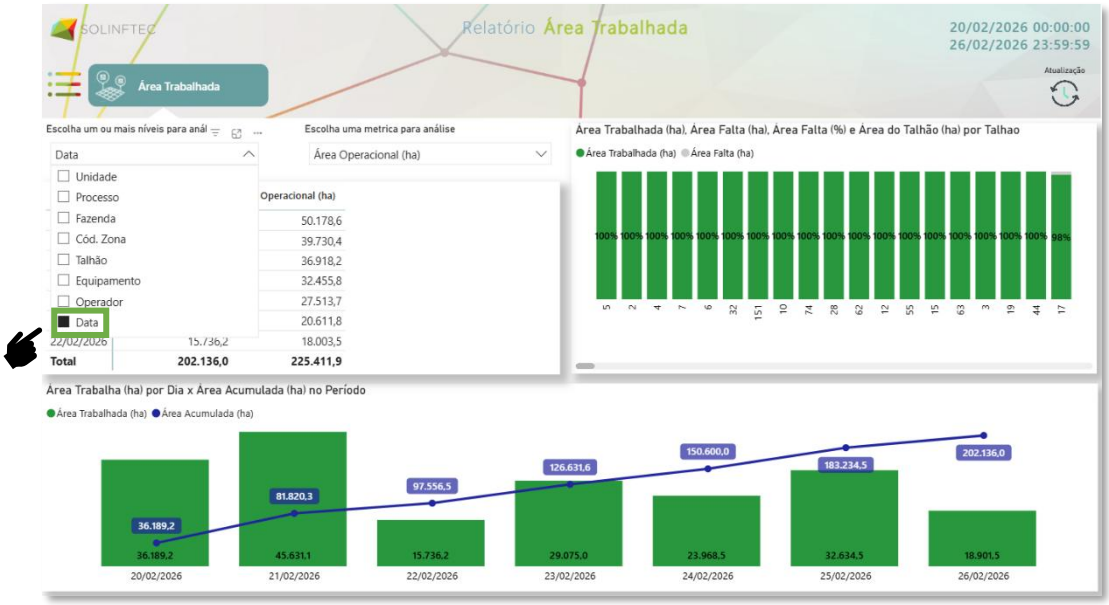

Figure 10 – PBI Worked Area Report

Access in: Side Menu > Reports > PBI > Area Reports > Working Area

Available for Perennial Vertical Environments

1.1.10 PBI Report – Worked Area

It was implemented in the PBI Report "Worked Area" of the sugarcane vertical, the Farm code, and the Process code, along with the respective descriptions, in the display of the data in the report table.

+55 (18) 3622-2270
Av. Brasília, 2.121 - Edif. New York Tower
Jardim Nova York - Araçatuba/SP

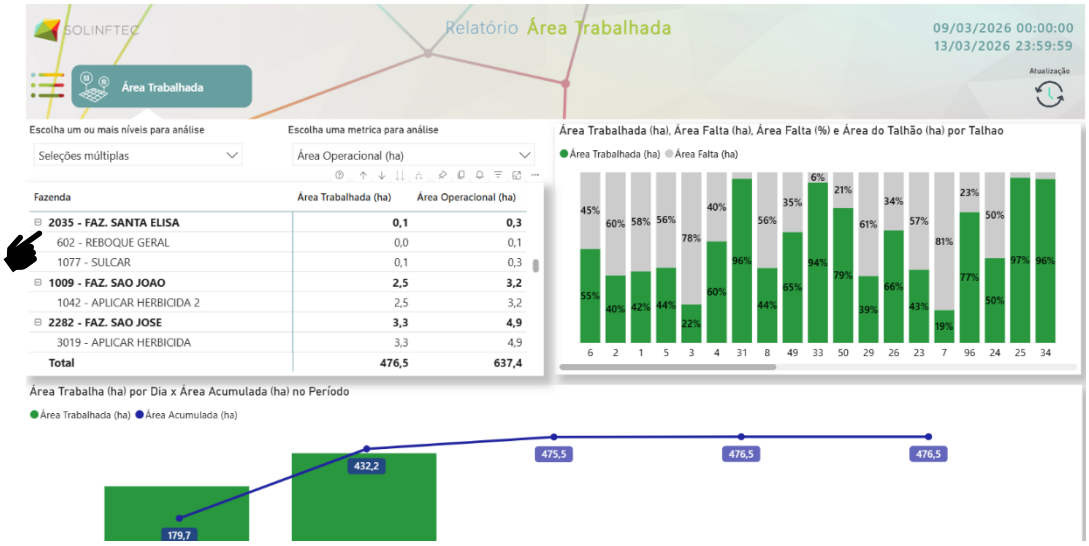

Figure 11 – PBI Report

Access in: Side Menu > Reports > PBI > Area Reports > Working Area.

Available for the Sugarcane Vertical Environments.

1.1.11 PBI Report – Operational Diary

A new metric for analysis called "Consumption (l)" was implemented in **the PBI Report "Operational Diary" within the Production tab. When** selected, it displays the information in the report with fuel **consumption** values in **liters.**

Figure 12 – New metric for analysis Consumption(l)

+55 (18) 3622-2270
Av. Brasília, 2.121 - Edif. New York Tower
Jardim Nova York - Araçatuba/SP

Access in: Side Menu > Reports > PBI > Operational Reports > Operational Diary > Production Tab

Available for Vertical Grain Environments

1.1.12 PBI Report – Operational Achievement

A new metric for analysis called Productive Operating Yield (ha/h) was implemented in **the PBI Report "Operational Achievement" within the "General Efficiency" tab**. When selected, it displays the information in the report with the values of the operational area by productive hours.

Figure 13 – New metric for analysis Productive Operating Yield (ha/h)

Access in: Side Menu > Reports > PBI > Operational Reports > Operational Realization > General Efficiency Tab

Available for Vertical Grain Environments

1.1.13 Weather Map – Weather Graph

Improvement applied to the "Weather Graph" in the Weather screen to show the values of the bar-type graphs only when there is a selected type. When two types of bar graphs are selected, the values are shown only when the cursor is hovered over the graph.

+55 (18) 3622-2270
Av. Brasília, 2.121 - Edif. New York Tower
Jardim Nova York - Araçatuba/SP

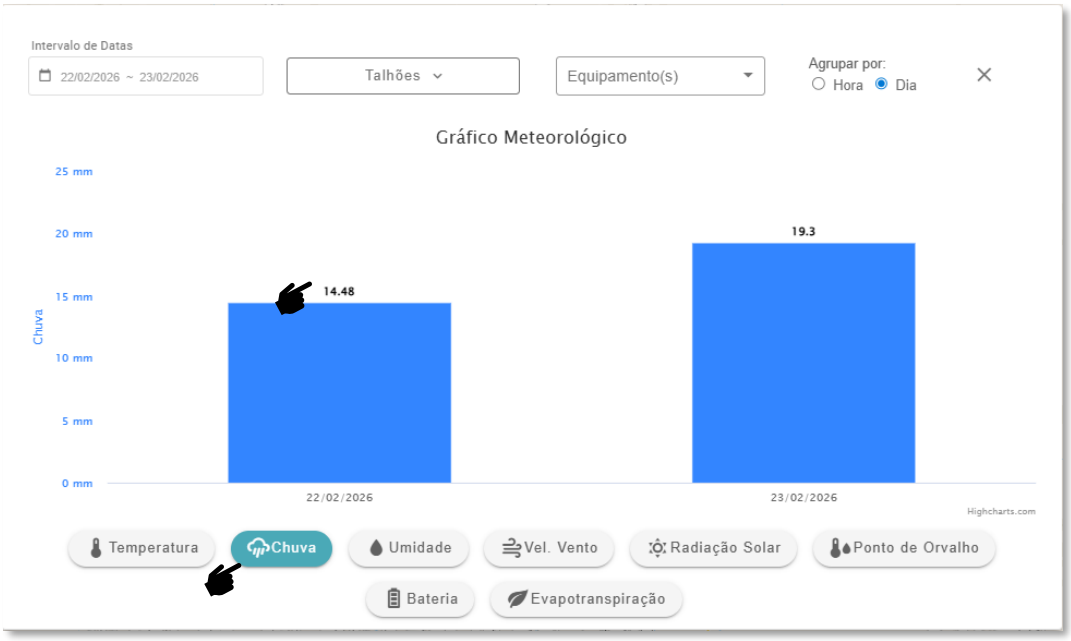

Figure 14 – Weather graph with only the rain graph, with the values appearing.

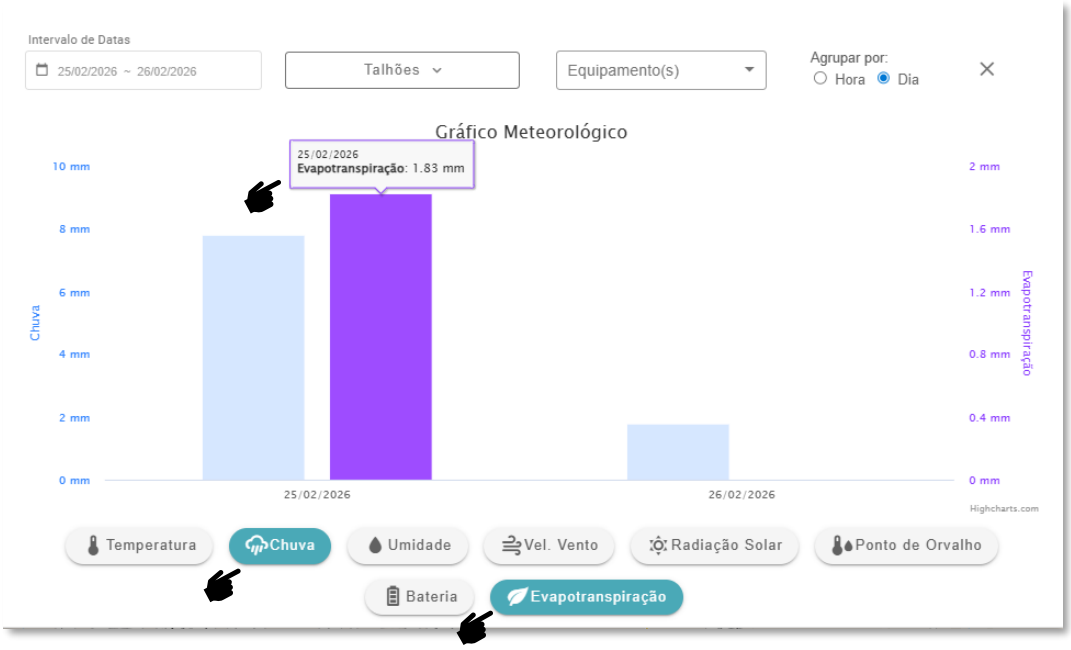

Figure 15 – Weather graph with two bar graphs (rain and evapotranspiration) showing bar value when hovering.

+55 (18) 3622-2270
Av. Brasília, 2.121 - Edif. New York Tower
Jardim Nova York - Araçatuba/SP

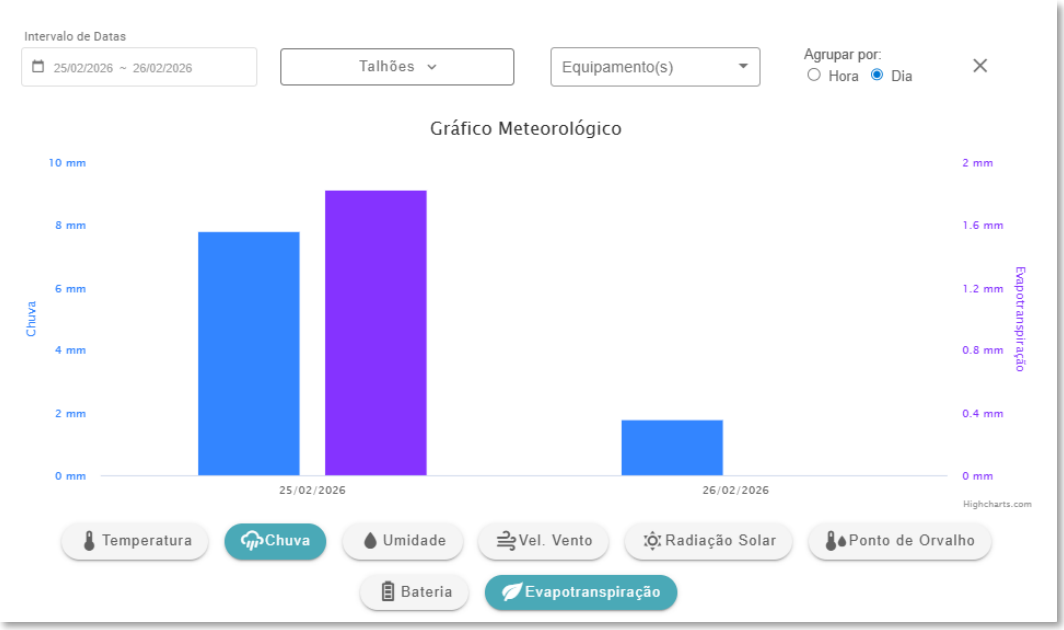

Figure 16 – Weather graph with two bar graphs: rain and evapotranspiration

Accessed in: Top Menu > Map > Weather > Weather Graph

Available for Environments that have the "Climate" solution active.

1.1.14 PBI Report Scheduler V2 – CCT Report

It was implemented in the "PBI Report Scheduler V2", the signaling of the mandatory field "Every" when scheduling the CCT report, when the "Recurrence pattern" of the "custom" type is selected, together with the mandatory fields, will be signaled if they are not filled in by the user and click on the advance step.

+55 (18) 3622-2270
Av. Brasília, 2.121 - Edif. New York Tower
Jardim Nova York - Araçatuba/SP

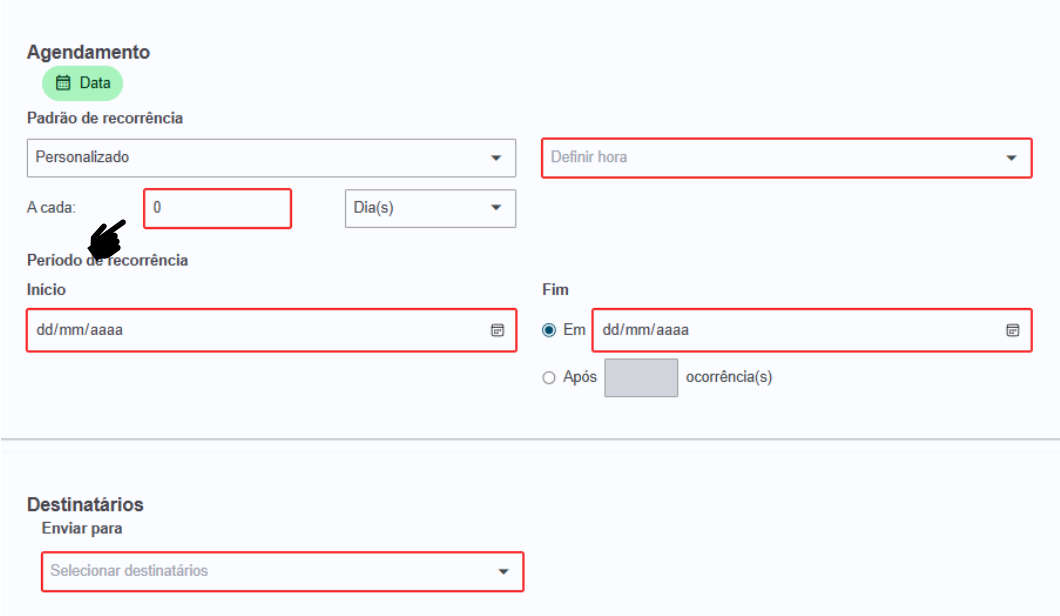

Figure 17 – CCT Report in PBI Report Scheduler V2

Access in: Side Menu > Reports > PBI V2 Report Scheduler

1.1.15 MONIT+ – Translation

Implemented translation improvement in MONIT+; from this version, the language translation is performed through the SGPA3 system, and no longer through the user's browser. This improvement aims to enhance the usability experience for SGPA3 users.

Before opening MONIT+, the user needs to have the desired language selected within the SGPA.

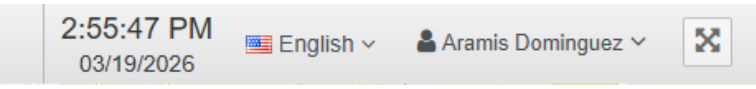

Figure 18 – Language Selection Modal

+55 (18) 3622-2270
Av. Brasília, 2.121 - Edif. New York Tower
Jardim Nova York - Araçatuba/SP

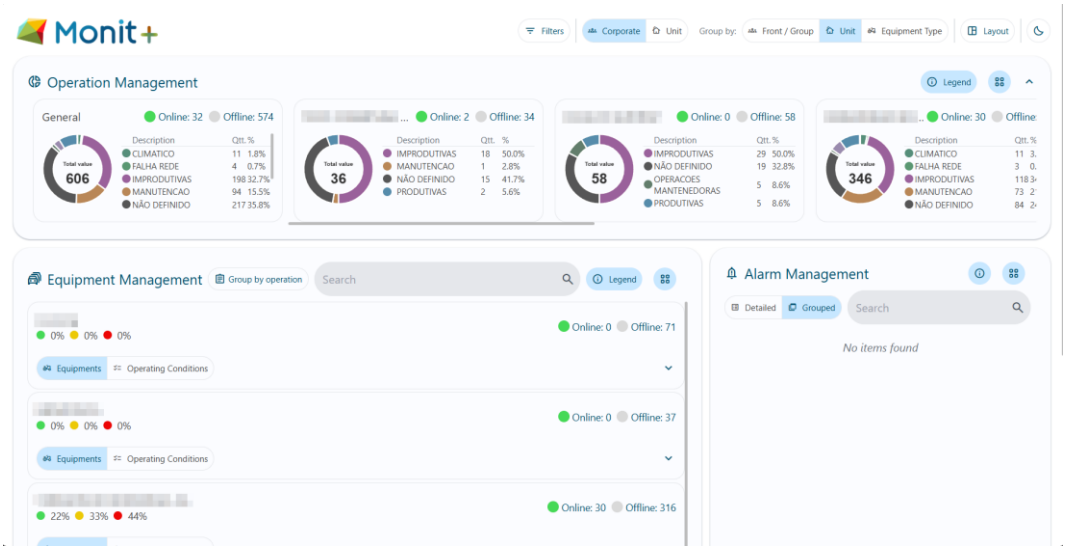

Figure 19 – MONIT+ screen in English

Accessed in: Top Menu > MONIT+

Available to customers who have the MONIT+ solution.

1.1.16 Analytical Map – Torque Map

Improvement applied in the generation of the Analytical Torque Map in the SGPA for the Fertilization and Planting processes, where it is generating traces on the SGPA3 analytical map screen. This item was only available for the soil preparation process.

Access in: Top Menu > Analytical Map > Torque Map

2.1Bugs

2.1.1 PBI Reports – Harvest Planning

Adjustment made in the PBI Report "Harvest Planning" for the calculation of the measure, to correctly display the progress bar in the monitoring of the process planning.

+55 (18) 3622-2270
Av. Brasília, 2.121 - Edif. New York Tower
Jardim Nova York - Araçatuba/SP

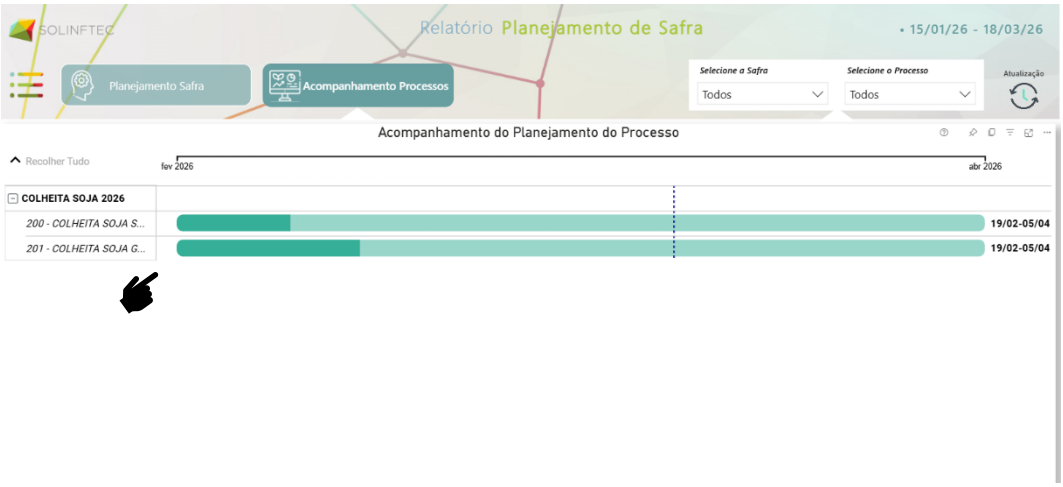

Figure 20 – Progress Bar within the PBI Crop Planning Report

Access in: Side Menu > Reports > PBI > Harvest Planning

2.1.2 PBI Reports – Fertigation Notes

Adjustment made in the PBI Report "Fertigation Appointment" so that the trip information came complete within the "Report" tab in the "Summarized" tab, making each trip really displayed in a single line in the report.

Access in: Side Menu > Reports > PBI > Fertigation Notes > Reports Tab > Summary Tab

2.1.3 PBI Reports – Load Profile

Adjustment made in the PBI Report "Load Profile" to correctly load the equipment filter data.

Access in: Side Menu > PBI > Reports > Load Profile

2.1.4 PBI Report Scheduler V2 – Operational Map

An adjustment was made to the "Report Scheduler" for map generation in **liquid fertilizer application operations** with a rate equal to zero, resulting in the proper generation of **the Operational Map** reports.

+55 (18) 3622-2270
Av. Brasília, 2.121 - Edif. New York Tower
Jardim Nova York - Araçatuba/SP

Access in: Top Menu > PBI Reports > > PBI Report Scheduler V2

2.1.5 PBI Report Scheduler V2 – Report Type

Adjustment made in the "PBI Report Scheduler V2" to correctly display when the report type has the schedule of type "Field" or is type "Date" being displayed in the details.

Access in: Side Menu > Reports > PBI V2 Report Scheduler

2.1.6 PBI Report Scheduler V2 – Report Details

Adjustment made in the "PBI Report Scheduler V2" to correctly display Front and the corresponding Unit in the report details.

Access in: Side Menu > Reports > Report Scheduler

2.1.7 PBI Report Scheduler V2 - Date

Adjustment made in the "PBI Report Scheduler V2" to save the exact date selected by the user, since it was saving the date with the day before the selected one.

Access in: Side Menu > Reports > Report Scheduler

2.1.8 Online Command

Adjustment made in the AT online Command "Updates Productive Operation Registration" to include in the command the descriptions of operations that contain a hyphen (-).

Accessed in: Top Menu > Online Command

+55 (18) 3622-2270
Av. Brasília, 2.121 - Edif. New York Tower
Jardim Nova York - Araçatuba/SP

2.1.9 Analytical Map – Fertigation Irrigation

An adjustment was made to the "Application Area" Map belonging to "Fertigation/Irrigation" to remove the "Histogram" and "Group by" fields in the map details.

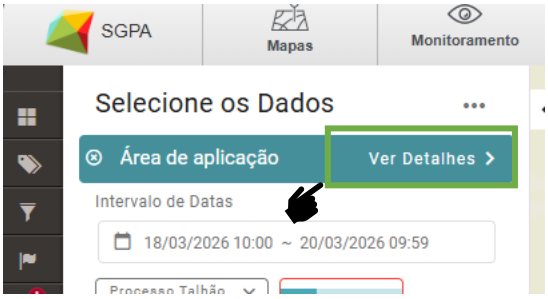

Figure 21 – Details Map Application Area

Access in: Top Menu > Analytical Map > Area > Application Area > View Details

2.1.10 Analytical Map – Trace Failures in TPL

An adjustment was made to the analytical map to correct failures in the tracks of TPL equipment, especially when the equipment was moving from one field to another.

Access in: Top Menu > Analytical Map > Line Maps

2.1.11 Analytical Map – Solids – Calibration Factor

Adjustment applied in the "Calibration Factor" field to be displayed **only** in the solids map with their respective operations and in the equipment that performs these operations, so equipment and operations that do not belong to the fertilizer distribution for the solids map **will not** be displayed in the **Calibration Factor** field.

+55 (18) 3622-2270
Av. Brasília, 2.121 - Edif. New York Tower
Jardim Nova York - Araçatuba/SP

Figure 22 – Details of the Analytical Trail of the Solids Map with incorrect operation, **first** with wrong data and **then** without Calibration Factor.

+55 (18) 3622-2270
Av. Brasília, 2.121 - Edif. New York Tower
Jardim Nova York - Araçatuba/SP

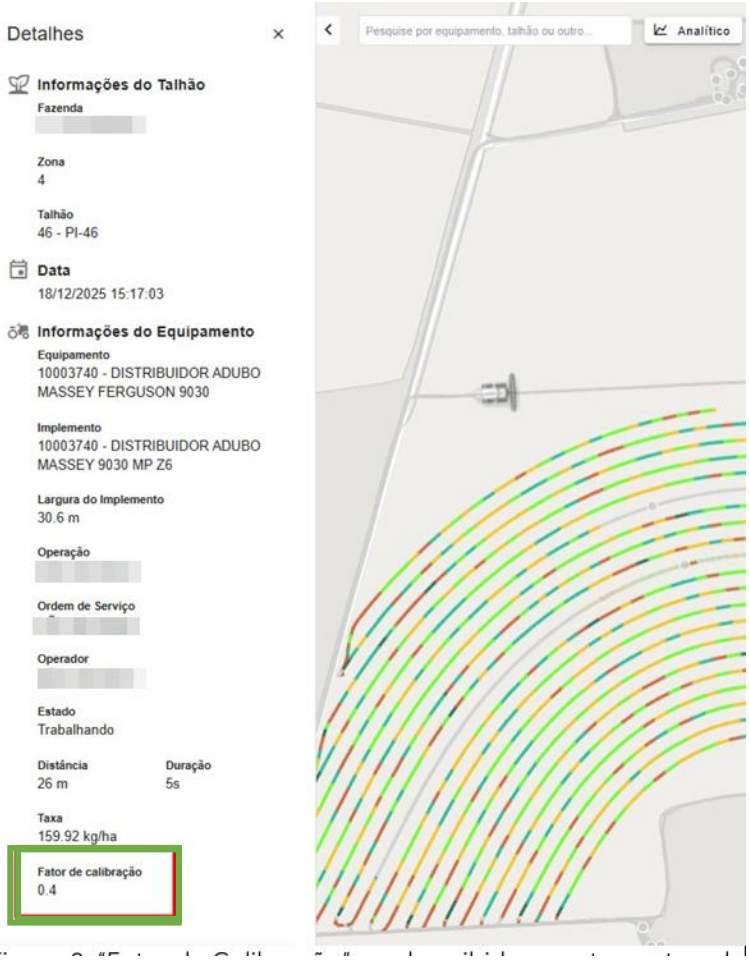

Figure 23 – Details of the Analytical Trace of the Solids Map – Calibration Factor with correct operation showing correct data.

Access in: Top Menu > Analytical Map > Line > Productivity > Solid

2.1.12 Tools – Operator Sheet

An adjustment was made in the translation of the language "Spanish" within the Operator File screen, in the "change" option of the inconsistency column. We have access to the module "Change Operator File" where the translation for the respective tag "Talhão" in Portuguese to "Campo" in Spanish was corrected.

Access in: Side Menu > Tools > Operator Sheet > Inconsistencies Column > "change" button > Change Operator Sheet

+55 (18) 3622-2270
Av. Brasília, 2.121 - Edif. New York Tower
Jardim Nova York - Araçatuba/SP

2.1.13 Alarms – Justification

Adjustment made to the justification of the Alarms to show the name of the correct user who performed the justification. This data is displayed in the table tab of the report.

Access in: Side Menu > Alarms > Alarms > Table tab and Reports > PBI > Online Command

If you have any questions or other clarifications, please contact us via email suporte@solinftec.com.br or call +55 18 3622 2270.

+55 (18) 3622-2270
Av. Brasília, 2.121 - Edif. New York Tower
Jardim Nova York - Araçatuba/SP