SOLINFTEC

# Changelog

## SGPA3
## Automated Process Management System

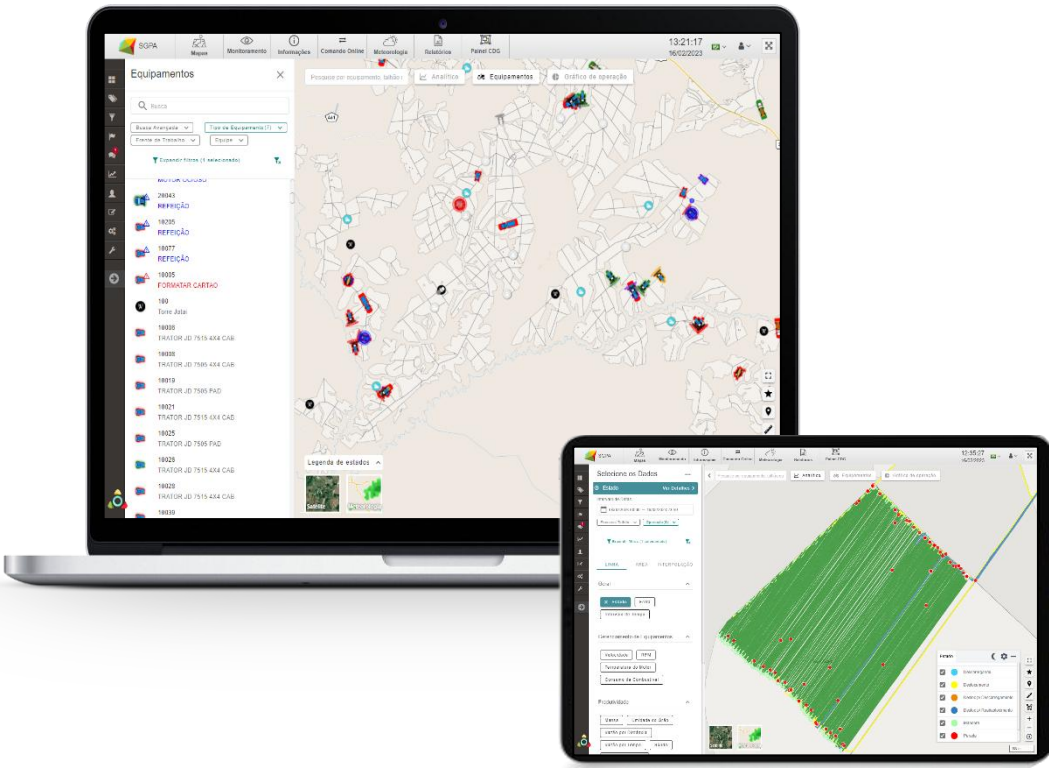


Changelog Version 2026/277

Period: 02/10/2026 to 03/24/2026

Revision 00

Date: 04/14/2026

Some applications mentioned in this report may not be available in the package of functionalities installed in your SGPA 3.0

+55 (18) 3622-2270
Av. Brasília, 2.121 - Edif. New York Tower
Jardim Nova York - Araçatuba/SP

Thank you for being an SGPA 3.0 user!

We update our system frequently to fix bugs, improve performance, and add new features to enable a better user experience and contribute to management with higher quality and efficiency.

+55 (18) 3622-2270
Av. Brasília, 2.121 - Edif. New York Tower
Jardim Nova York - Araçatuba/SP

Summary

1. SGPA3 ..... 4

1.1 Improvements ..... 4

1.1.1 PBI Report – Weather Conditions Reports ..... 4

1.1.2 PBI Report – Climate x Operation ..... 6

1.1.3 PBI Report – Cutting, Loading and Transporting (CCT) ..... 6

1.1.4 PBI Report – Productivity Monitor ..... 7

1.1.5 PBI Report – Irrigation Monitor ..... 8

1.1.6 PBI Report – Report Scheduler ..... 11

1.1.7 Worked Area – Map Adjustment ..... 13

1.1.8 Online Command – Inactive Operations ..... 14

1.1.9 Records – Quality Monitoring ..... 14

1.1.10 Records – Fence/Alert Rule ..... 15

2.1 Bugs ..... 16

2.1.1 PBI Reports – Efficiency Report ..... 16

2.1.2 Records – Equipment ..... 16

2.1.3 Tools Integration – Extraction Inventory Report ..... 16

2.1.4 CDA Panel – Pagination ..... 17

2.1.5 PBI Report Scheduler V2 – Translation ..... 17

2.1.6 Records – Automatic Operations ..... 17

2.1.7 Monit+ - Alarms ..... 17

2.1.8 Operation – Operation Parameters ..... 18

2.1.9 Maps Interpolation - Falling Seeds ..... 18

# 1. SGPA3

## 1.1 Improvements

### 1.1.1 PBI Report – Climate Conditions Reports

Improved the filters in the Weather Conditions Reports to include the equipment group filter. The Regional option has also been included in the dynamic filter at the top of the second tab, Rain Report, and in the drill of the last table of the third tab, Weather Report.

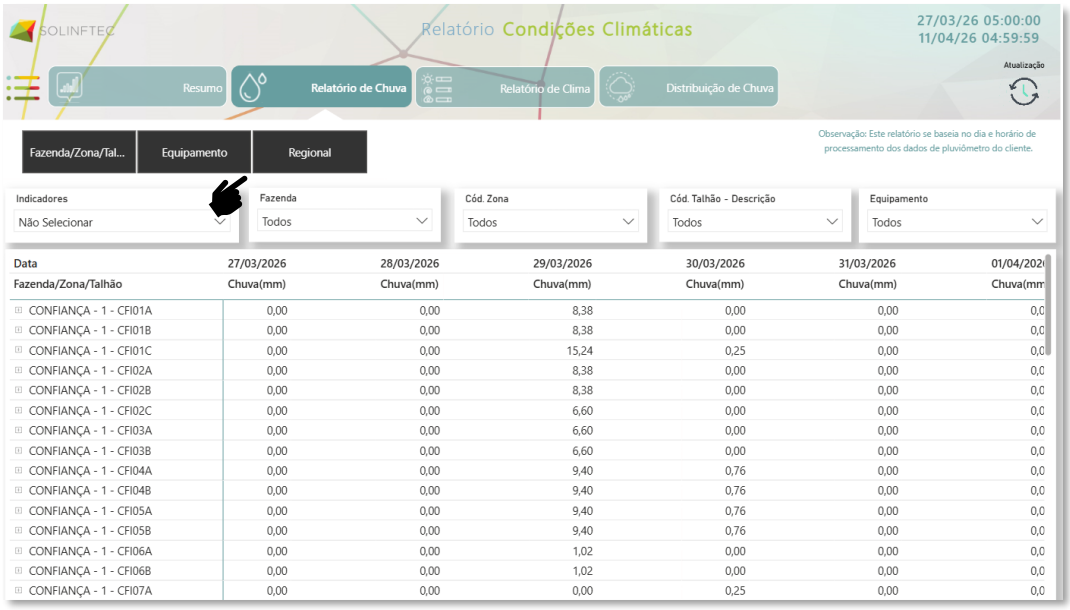


| Data | 27/03/2026 | 28/03/2026 | 29/03/2026 | 30/03/2026 | 31/03/2026 | 01/04/202 |
|---|---|---|---|---|---|---|
| Fazenda/Zona/Talhão | Chuva(mm) | Chuva(mm) | Chuva(mm) | Chuva(mm) | Chuva(mm) | Chuva(mm |
| CONFIANÇA - 1 - CFI01A | 0,00 | 0,00 | 8,38 | 0,00 | 0,00 | 0,0 |
| CONFIANÇA - 1 - CFI01B | 0,00 | 0,00 | 8,38 | 0,00 | 0,00 | 0,0 |
| CONFIANÇA - 1 - CFI01C | 0,00 | 0,00 | 15,24 | 0,25 | 0,00 | 0,0 |
| CONFIANÇA - 1 - CFI02A | 0,00 | 0,00 | 8,38 | 0,00 | 0,00 | 0,0 |
| CONFIANÇA - 1 - CFI02B | 0,00 | 0,00 | 8,38 | 0,00 | 0,00 | 0,0 |
| CONFIANÇA - 1 - CFI02C | 0,00 | 0,00 | 6,60 | 0,00 | 0,00 | 0,0 |
| CONFIANÇA - 1 - CFI03A | 0,00 | 0,00 | 6,60 | 0,00 | 0,00 | 0,0 |
| CONFIANÇA - 1 - CFI03B | 0,00 | 0,00 | 6,60 | 0,00 | 0,00 | 0,0 |
| CONFIANÇA - 1 - CFI04A | 0,00 | 0,00 | 9,40 | 0,76 | 0,00 | 0,0 |
| CONFIANÇA - 1 - CFI04B | 0,00 | 0,00 | 9,40 | 0,76 | 0,00 | 0,0 |
| CONFIANÇA - 1 - CFI05A | 0,00 | 0,00 | 9,40 | 0,76 | 0,00 | 0,0 |
| CONFIANÇA - 1 - CFI05B | 0,00 | 0,00 | 9,40 | 0,76 | 0,00 | 0,0 |
| CONFIANÇA - 1 - CFI06A | 0,00 | 0,00 | 1,02 | 0,00 | 0,00 | 0,0 |
| CONFIANÇA - 1 - CFI06B | 0,00 | 0,00 | 1,02 | 0,00 | 0,00 | 0,0 |
| CONFIANÇA - 1 - CFI07A | 0,00 | 0,00 | 0,00 | 0,25 | 0,00 | 0,0 |

Figure 1 – Rain Report Tab



+55 (18) 3622-2270
Av. Brasília, 2.121 - Edif. New York Tower
Jardim Nova York - Araçatuba/SP

Figure 2 – Climate Report Tab

Figure 3 – Filters – No Equipment Group (Before)

Figure 4 – New Filter – Equipment Group (After)

+55 (18) 3622-2270
Av. Brasília, 2.121 - Edif. New York Tower
Jardim Nova York - Araçatuba/SP

Figure 5 – New Filter – Equipment Group (After)

Zoom

Access in: Side Menu > Reports > PBI > Weather > Climatie Conditions

### 1.1.2 PBI Report – Climate x Operation

Improvement made in the PBI Report "Climate x Operation" within the Analysis tab, where the option to filter by Month/Year was included in the dynamic filter.

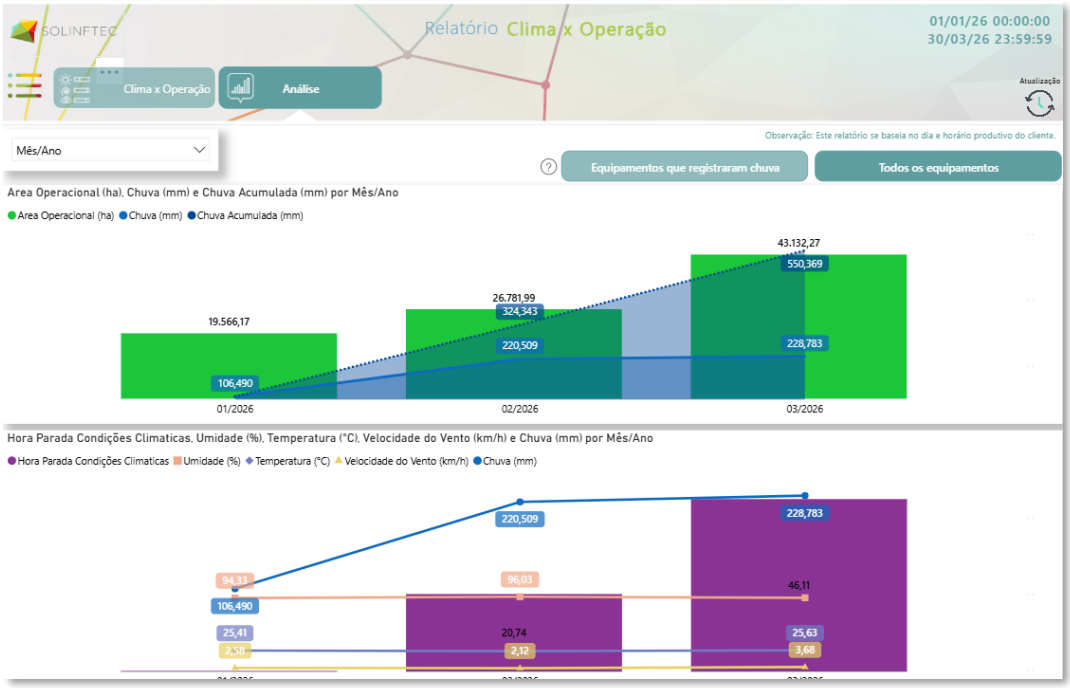


Figure 6 – PBI Climate x Operation Report.

Access in: Side Menu > Reports > PBI > Weather > Climate x Operation > Analysis Tab

Available for Environments that have the "Weather" solution active.

### 1.1.3 PBI Report – Cutting, Loading, and Transporting (CCT)

In the PBI Cut, Loading and Transport (CCT) Report, a filter was implemented in the first tab, the last graph on the right, that allows you to define the minimum value of average effective hours to be displayed, hiding from the graph the information that does not reach the minimum value determined.



+55 (18) 3622-2270
Av. Brasília, 2.121 - Edif. New York Tower
Jardim Nova York - Araçatuba/SP

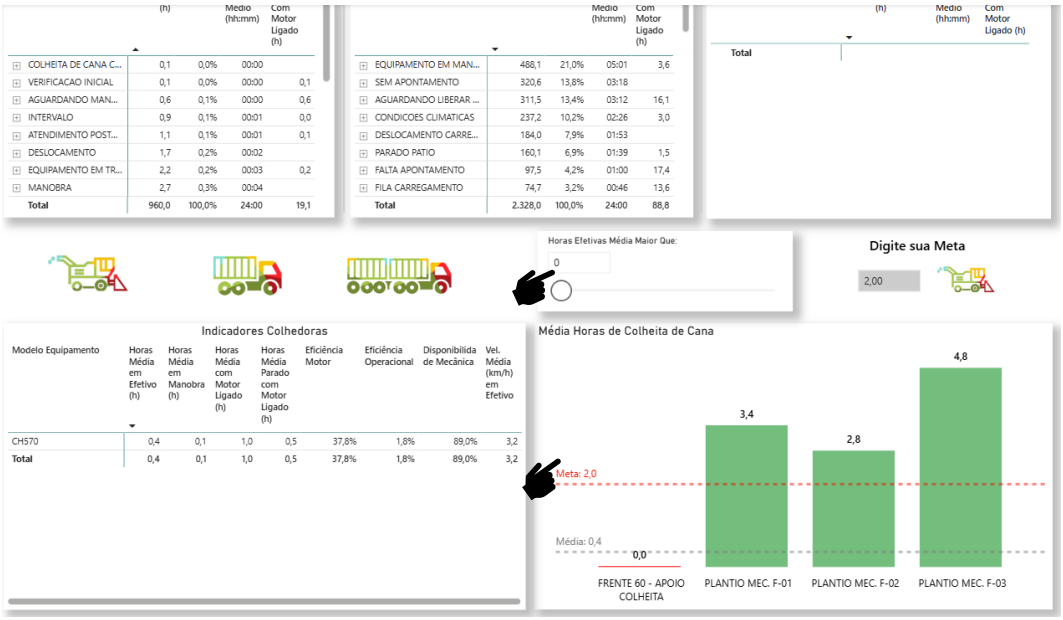


Figure 7 – PBI Report – Cutting, Loading, and Transporting (CCT)

Accessed in: Side Menu > Reports > PBI > Operating Hours > Cutting, Loading and Transporting (CCT)

### 1.1.4 PBI Report – Productivity Monitor

Improvement implemented in the PBI Productivity Monitor Report through the inclusion of the column "Production IA % (t)" in the Agronomic tab.



+55 (18) 3622-2270
Av. Brasília, 2.121 - Edif. New York Tower
Jardim Nova York - Araçatuba/SP

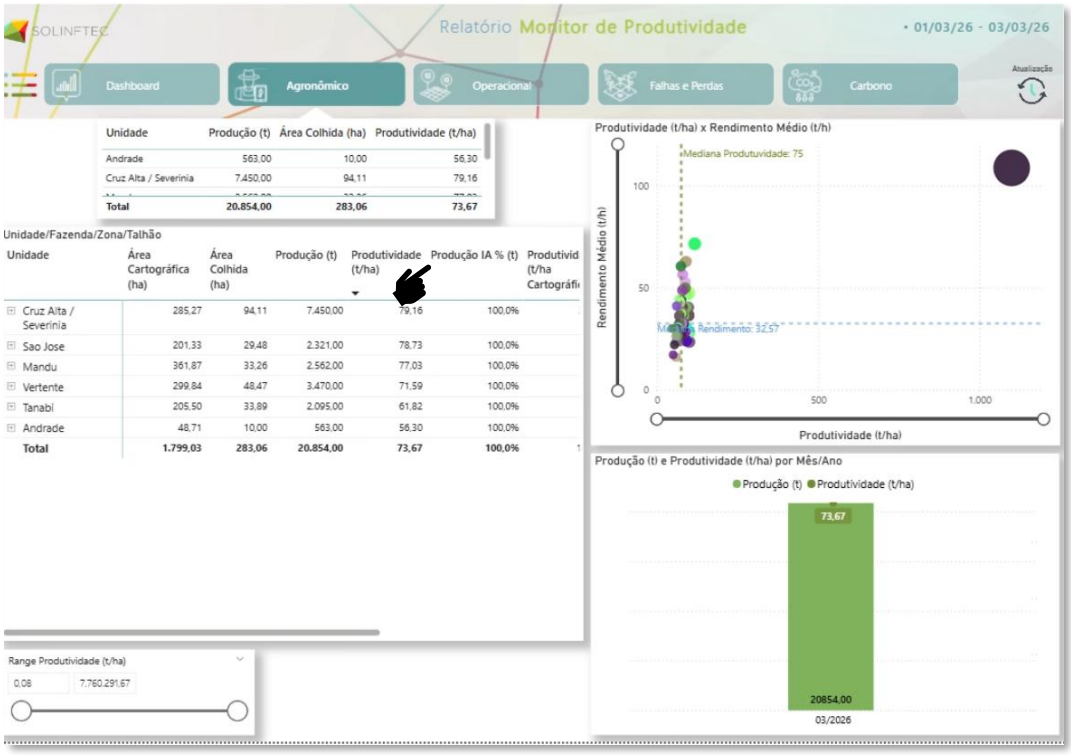


Figure 8 – Productivity Monitor Report

Access in: Side Menu > Reports > PBI > Productivity Monitor

### 1.1.5 PBI Report – Irrigation Monitor

Improvements were made to the Irrigation Monitor Report to provide a more assertive view, allowing the complete visualization of the information. With this, it becomes possible to analyze the water balance in a more comprehensive way, including not only the balance itself, but also the evapotranspiration (evapo) together with the management factor.



+55 (18) 3622-2270
Av. Brasília, 2.121 - Edif. New York Tower
Jardim Nova York - Araçatuba/SP

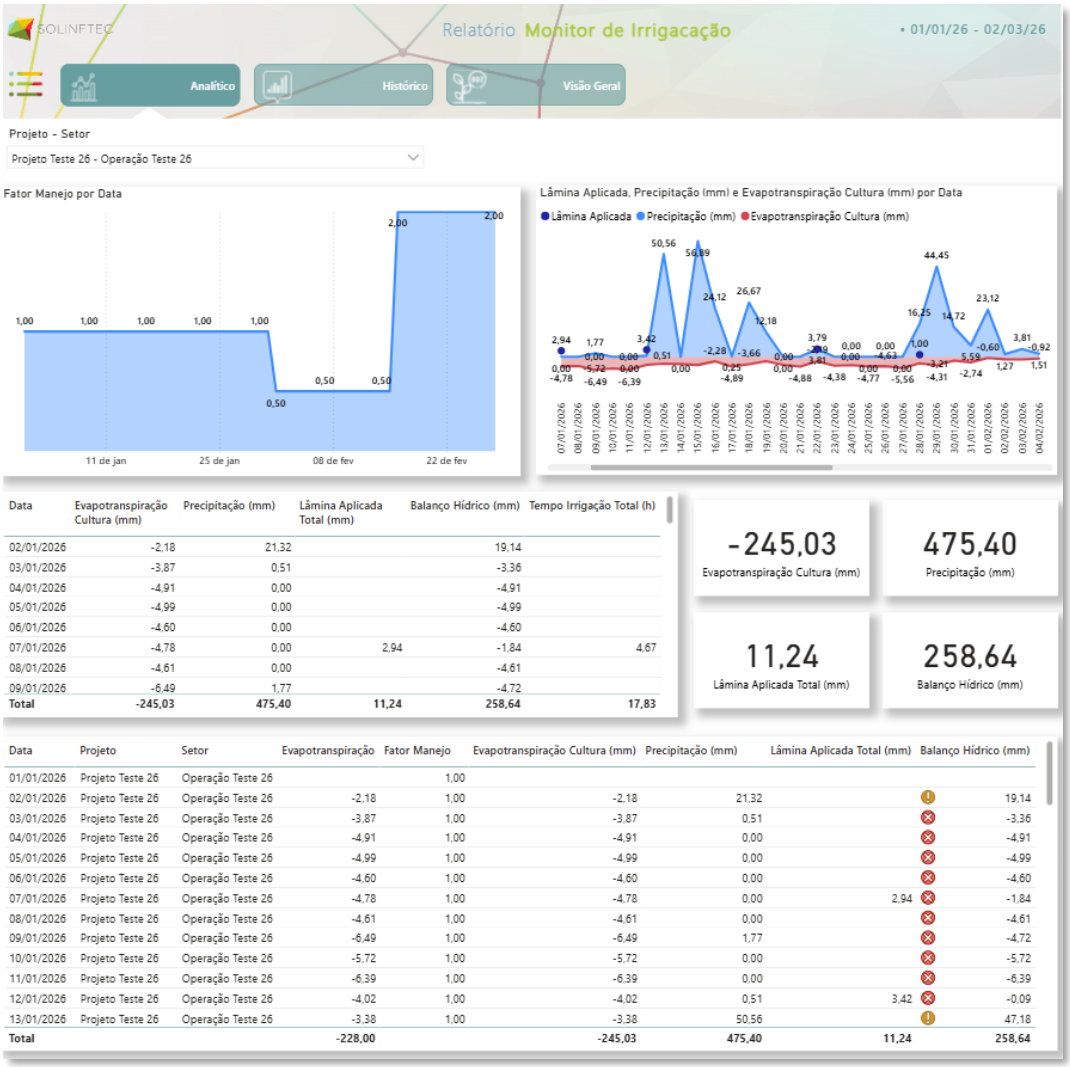


| Data | Evapotranspiração Cultura (mm) | Precipitação (mm) | Lâmina Aplicada Total (mm) | Balanço Hídrico (mm) | Tempo Irrigação Total (h) |
|---|---|---|---|---|---|
| 02/01/2026 | -2,18 | 21,32 | | 19,14 | |
| 03/01/2026 | -3,87 | 0,51 | | -3,36 | |
| 04/01/2026 | -4,91 | 0,00 | | -4,91 | |
| 05/01/2026 | -4,99 | 0,00 | | -4,99 | |
| 06/01/2026 | -4,60 | 0,00 | | -4,60 | |
| 07/01/2026 | -4,78 | 0,00 | 2,94 | -1,84 | 4,67 |
| 08/01/2026 | -4,61 | 0,00 | | -4,61 | |
| 09/01/2026 | -6,49 | 1,77 | | -4,72 | |
| **Total** | **-245,03** | **475,40** | **11,24** | **258,64** | **17,83** |

| Data | Projeto | Setor | Evapotranspiração | Fator Manejo | Evapotranspiração Cultura (mm) | Precipitação (mm) | Lâmina Aplicada Total (mm) | Balanço Hídrico (mm) |
|---|---|---|---|---|---|---|---|---|
| 01/01/2026 | Projeto Teste 26 | Operação Teste 26 | | 1,00 | | | | |
| 02/01/2026 | Projeto Teste 26 | Operação Teste 26 | -2,18 | 1,00 | -2,18 | 21,32 | | 19,14 |
| 03/01/2026 | Projeto Teste 26 | Operação Teste 26 | -3,87 | 1,00 | -3,87 | 0,51 | | -3,36 |
| 04/01/2026 | Projeto Teste 26 | Operação Teste 26 | -4,91 | 1,00 | -4,91 | 0,00 | | -4,91 |
| 05/01/2026 | Projeto Teste 26 | Operação Teste 26 | -4,99 | 1,00 | -4,99 | 0,00 | | -4,99 |
| 06/01/2026 | Projeto Teste 26 | Operação Teste 26 | -4,60 | 1,00 | -4,60 | 0,00 | | -4,60 |
| 07/01/2026 | Projeto Teste 26 | Operação Teste 26 | -4,78 | 1,00 | -4,78 | 0,00 | 2,94 | -1,84 |
| 08/01/2026 | Projeto Teste 26 | Operação Teste 26 | -4,61 | 1,00 | -4,61 | 0,00 | | -4,61 |
| 09/01/2026 | Projeto Teste 26 | Operação Teste 26 | -6,49 | 1,00 | -6,49 | 1,77 | | -4,72 |
| 10/01/2026 | Projeto Teste 26 | Operação Teste 26 | -5,72 | 1,00 | -5,72 | 0,00 | | -5,72 |
| 11/01/2026 | Projeto Teste 26 | Operação Teste 26 | -6,39 | 1,00 | -6,39 | 0,00 | | -6,39 |
| 12/01/2026 | Projeto Teste 26 | Operação Teste 26 | -4,02 | 1,00 | -4,02 | 0,51 | 3,42 | -0,09 |
| 13/01/2026 | Projeto Teste 26 | Operação Teste 26 | -3,38 | 1,00 | -3,38 | 50,56 | | 47,18 |
| **Total** | | | **-228,00** | | **-245,03** | **475,40** | **11,24** | **258,64** |

Figure 9 – Irrigation Monitor Report – Analytical Tab



+55 (18) 3622-2270
Av. Brasília, 2.121 - Edif. New York Tower
Jardim Nova York - Araçatuba/SP

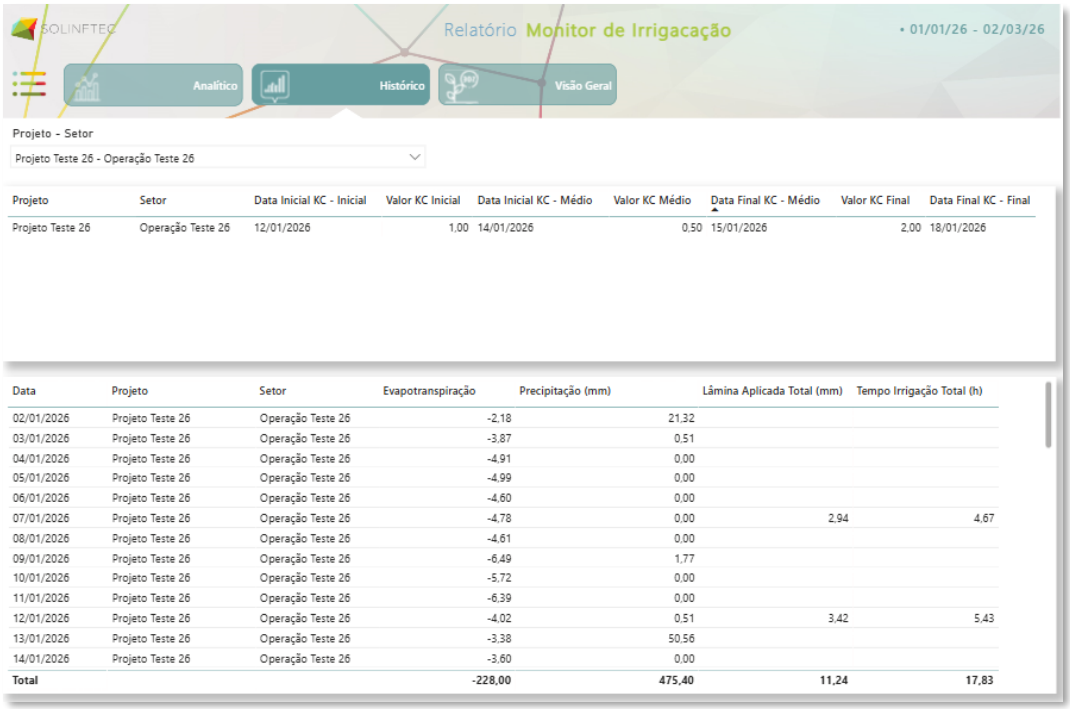


| Projeto | Setor | Data Inicial KC - Inicial | Valor KC Inicial | Data Inicial KC - Médio | Valor KC Médio | Data Final KC - Médio | Valor KC Final | Data Final KC - Final |
|---|---|---|---|---|---|---|---|---|
| Projeto Teste 26 | Operação Teste 26 | 12/01/2026 | 1,00 | 14/01/2026 | 0,50 | 15/01/2026 | 2,00 | 18/01/2026 |

| Data | Projeto | Setor | Evapotranspiração | Precipitação (mm) | Lâmina Aplicada Total (mm) | Tempo Irrigação Total (h) |
|---|---|---|---|---|---|---|
| 02/01/2026 | Projeto Teste 26 | Operação Teste 26 | -2,18 | 21,32 | | |
| 03/01/2026 | Projeto Teste 26 | Operação Teste 26 | -3,87 | 0,51 | | |
| 04/01/2026 | Projeto Teste 26 | Operação Teste 26 | -4,91 | 0,00 | | |
| 05/01/2026 | Projeto Teste 26 | Operação Teste 26 | -4,99 | 0,00 | | |
| 06/01/2026 | Projeto Teste 26 | Operação Teste 26 | -4,60 | 0,00 | | |
| 07/01/2026 | Projeto Teste 26 | Operação Teste 26 | -4,78 | 0,00 | 2,94 | 4,67 |
| 08/01/2026 | Projeto Teste 26 | Operação Teste 26 | -4,61 | 0,00 | | |
| 09/01/2026 | Projeto Teste 26 | Operação Teste 26 | -6,49 | 1,77 | | |
| 10/01/2026 | Projeto Teste 26 | Operação Teste 26 | -5,72 | 0,00 | | |
| 11/01/2026 | Projeto Teste 26 | Operação Teste 26 | -6,39 | 0,00 | | |
| 12/01/2026 | Projeto Teste 26 | Operação Teste 26 | -4,02 | 0,51 | 3,42 | 5,43 |
| 13/01/2026 | Projeto Teste 26 | Operação Teste 26 | -3,38 | 50,56 | | |
| 14/01/2026 | Projeto Teste 26 | Operação Teste 26 | -3,60 | 0,00 | | |
| **Total** | | | **-228,00** | **475,40** | **11,24** | **17,83** |

Figure 10 – Irrigation Monitor Report – History Tab

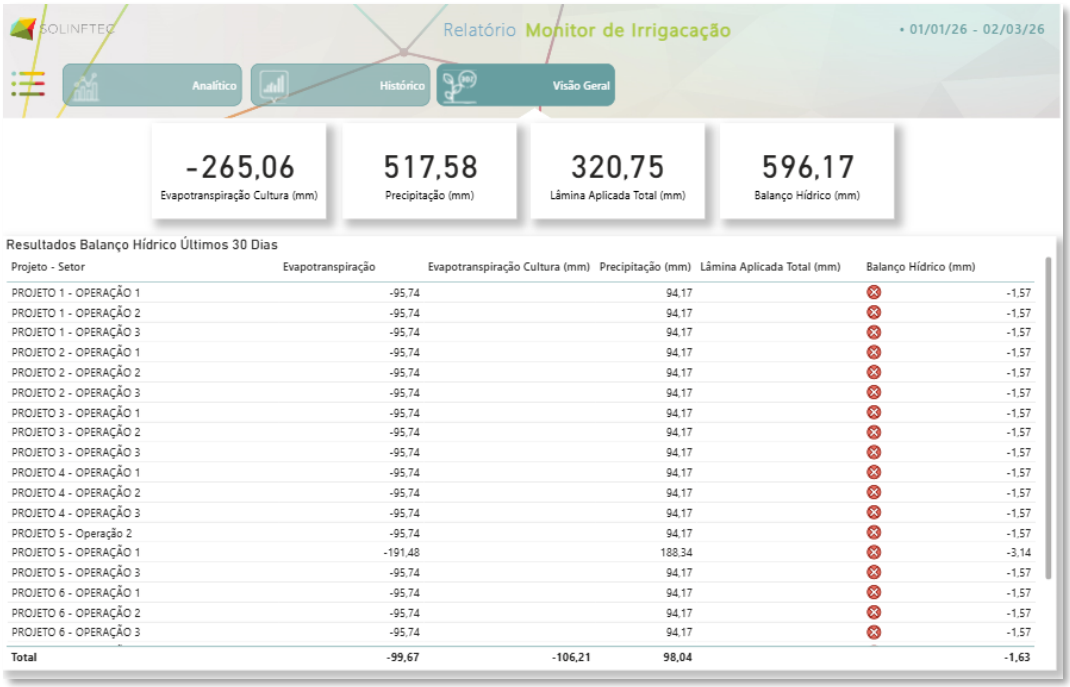


| Projeto - Setor | Evapotranspiração | Evapotranspiração Cultura (mm) | Precipitação (mm) | Lâmina Aplicada Total (mm) | Balanço Hídrico (mm) |
|---|---|---|---|---|---|
| PROJETO 1 - OPERAÇÃO 1 | -95,74 | | 94,17 | | -1,57 |
| PROJETO 1 - OPERAÇÃO 2 | -95,74 | | 94,17 | | -1,57 |
| PROJETO 1 - OPERAÇÃO 3 | -95,74 | | 94,17 | | -1,57 |
| PROJETO 2 - OPERAÇÃO 1 | -95,74 | | 94,17 | | -1,57 |
| PROJETO 2 - OPERAÇÃO 2 | -95,74 | | 94,17 | | -1,57 |
| PROJETO 2 - OPERAÇÃO 3 | -95,74 | | 94,17 | | -1,57 |
| PROJETO 3 - OPERAÇÃO 1 | -95,74 | | 94,17 | | -1,57 |
| PROJETO 3 - OPERAÇÃO 2 | -95,74 | | 94,17 | | -1,57 |
| PROJETO 3 - OPERAÇÃO 3 | -95,74 | | 94,17 | | -1,57 |
| PROJETO 4 - OPERAÇÃO 1 | -95,74 | | 94,17 | | -1,57 |
| PROJETO 4 - OPERAÇÃO 2 | -95,74 | | 94,17 | | -1,57 |
| PROJETO 4 - OPERAÇÃO 3 | -95,74 | | 94,17 | | -1,57 |
| PROJETO 5 - Operação 2 | -95,74 | | 94,17 | | -1,57 |
| PROJETO 5 - OPERAÇÃO 1 | -191,48 | | 188,34 | | -3,14 |
| PROJETO 5 - OPERAÇÃO 3 | -95,74 | | 94,17 | | -1,57 |
| PROJETO 6 - OPERAÇÃO 1 | -95,74 | | 94,17 | | -1,57 |
| PROJETO 6 - OPERAÇÃO 2 | -95,74 | | 94,17 | | -1,57 |
| PROJETO 6 - OPERAÇÃO 3 | -95,74 | | 94,17 | | -1,57 |
| **Total** | **-99,67** | **-106,21** | **98,04** | | **-1,63** |

Figure 11 – Irrigation Monitor Report – Overview Tab

Accessed in: Side Menu > PBI > Reports > Irrigation Monitor



+55 (18) 3622-2270
Av. Brasília, 2.121 - Edif. New York Tower
Jardim Nova York - Araçatuba/SP

### 1.1.6 PBI Report – Report Scheduler

A new table was included in the Alarm Reports, Coordinator profile. This filter brings only alarms whose description has "no note", the number of alarms is calculated, duration, and has granularity by operator and fleet, ordered by the number of alarms.



+55 (18) 3622-2270
Av. Brasília, 2.121 - Edif. New York Tower
Jardim Nova York - Araçatuba/SP

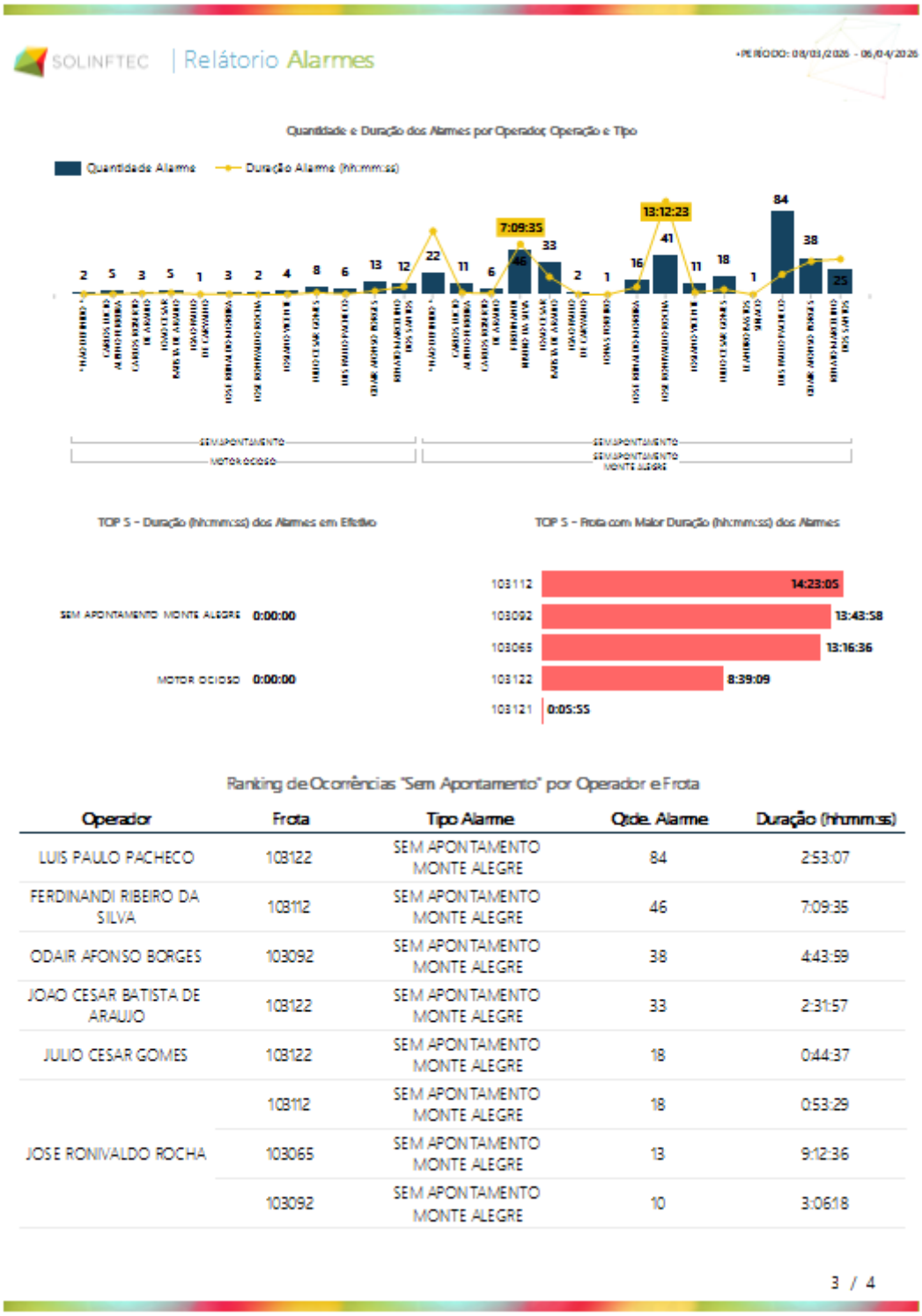


| Operador | Frota | Tipo Alarme | Qtde. Alarme | Duração (hh:mm:ss) |
|---|---|---|---|---|
| LUIS PAULO PACHECO | 103122 | SEM APONTAMENTO MONTE ALEGRE | 84 | 2:53:07 |
| FERDINANDI RIBEIRO DA SILVA | 103112 | SEM APONTAMENTO MONTE ALEGRE | 46 | 7:09:35 |
| ODAIR AFONSO BORGES | 103092 | SEM APONTAMENTO MONTE ALEGRE | 38 | 4:43:59 |
| JOAO CESAR BATISTA DE ARAUJO | 103122 | SEM APONTAMENTO MONTE ALEGRE | 33 | 2:31:57 |
| JULIO CESAR GOMES | 103122 | SEM APONTAMENTO MONTE ALEGRE | 18 | 0:44:37 |
| JOSE RONIVALDO ROCHA | 103112 | SEM APONTAMENTO MONTE ALEGRE | 18 | 0:53:29 |
| | 103065 | SEM APONTAMENTO MONTE ALEGRE | 13 | 9:12:36 |
| | 103092 | SEM APONTAMENTO MONTE ALEGRE | 10 | 3:06:18 |

Figure 12 – Table "Ranking of occurrences "No Point" by operator and fleet.

Access in: Side Menu > Reports > Report Scheduler PBI V2



+55 (18) 3622-2270
Av. Brasília, 2.121 - Edif. New York Tower
Jardim Nova York - Araçatuba/SP

### 1.1.7 Worked Area – Map Adjustment

An adjustment was implemented in the Worked Area Map where breaks by plots and streets were removed. Therefore, there is no longer a lack of design, which allows the equipment to remain effective in the transition between fields.

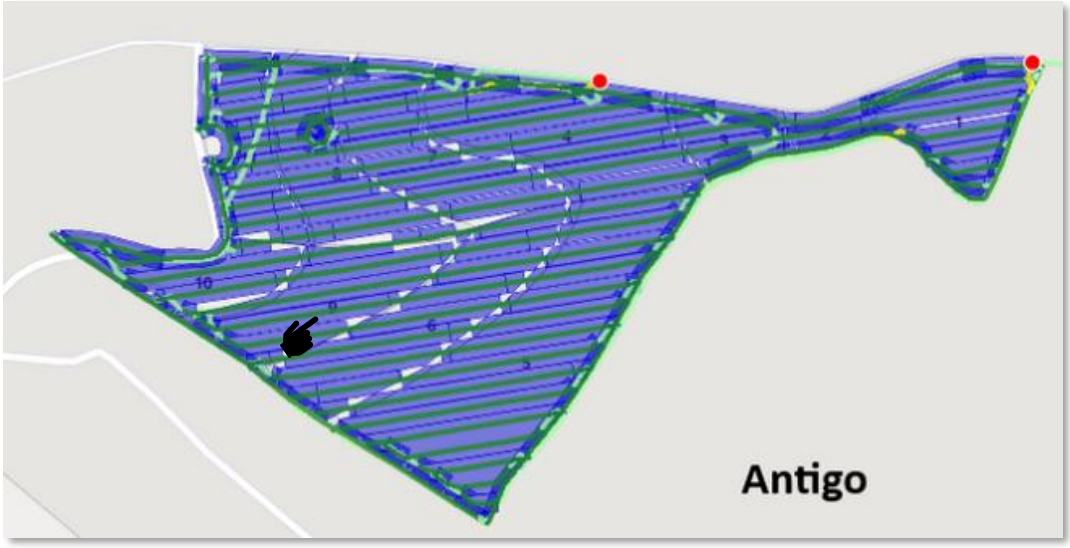


Figure 13 – Map of the Worked Area with the breaks.

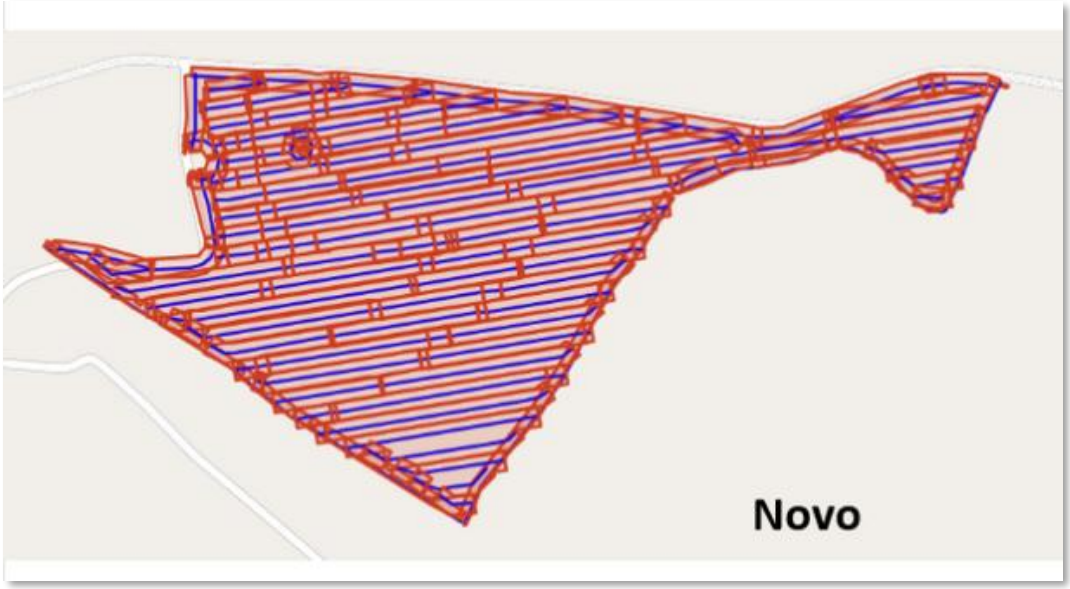


Figure 14 – Map of the Worked Area without the breaks.

Accessed in: Top Menu > Maps > Worked Area



+55 (18) 3622-2270
Av. Brasília, 2.121 - Edif. New York Tower
Jardim Nova York - Araçatuba/SP

### 1.1.8 Online Command – Inactive Operations

An improvement has been applied to the online command screen so that only active operations are available for selection when sending an online command with operations.

Accessed in: Top Menu > Online Command

### 1.1.9 Records – Quality Monitoring

Improvements were made to the Quality Monitor Records screen, and filters were added to all columns of Quality Monitoring. Also added the Quality Monitoring import screen, informational messages, and the ability to download an import template.

Figure 15 – Filters added to columns

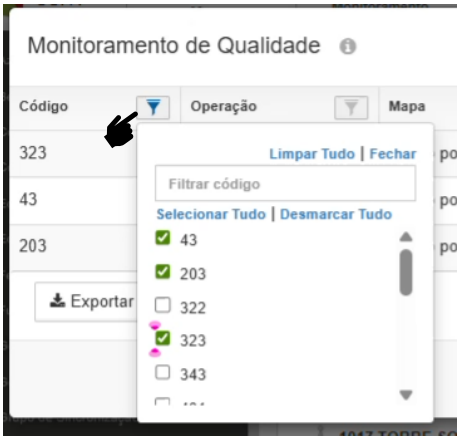


Figure 16 – Column filter



+55 (18) 3622-2270
Av. Brasília, 2.121 - Edif. New York Tower
Jardim Nova York - Araçatuba/SP

Figure 17 – Informational messages import screen

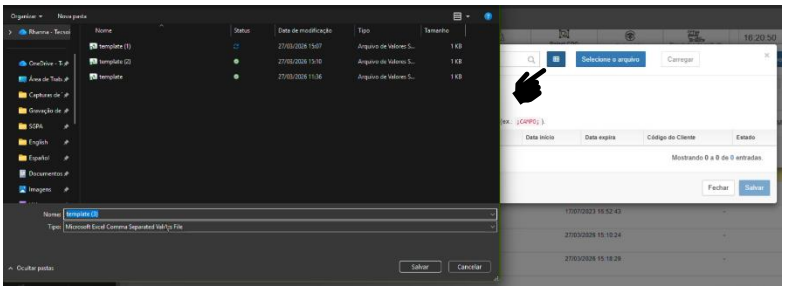

Figure 18 – Button to download Import Template

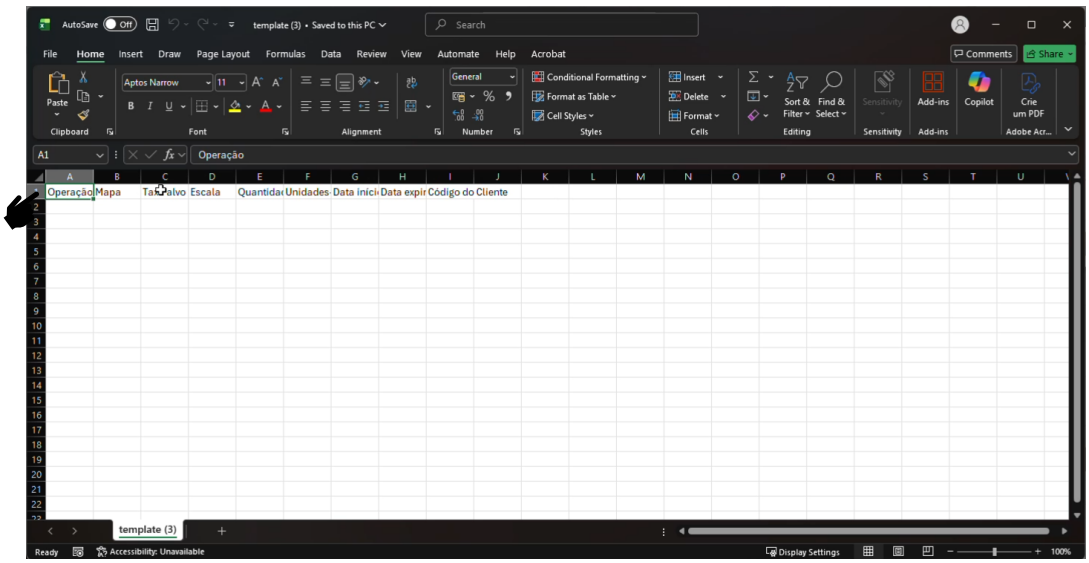


Figure 19 – Import Model Excel File

Access in: Side Menu > Records > Operation > Quality Monitoring

### 1.1.10 Records – Fence/Alert Rule

Improvement was achieved through the implementation of a “Mandatory Stop" checkpoint at the fixed point of the transshipment equipment. When entering the radius of this point, the equipment must remain stationary for a minimum of 3



+55 (18) 3622-2270
Av. Brasília, 2.121 - Edif. New York Tower
Jardim Nova York - Araçatuba/SP

seconds before leaving the area. At each pass, the equipment sends information indicating whether to stop or not. In case of non-compliance, the SGPA triggers a "Mandatory Stop" alarm in the monitoring.

Access in: Side Menu > Records > Alerts > Rules > Fence/Alert.

## 2.1Bugs

### 2.1.1 PBI Reports – Efficiency Report

Adjustment made to the Equipment filter of the Efficiency PBI Report, where when clicking on the efficiency screen and opening the Equipment filter, all equipment is displayed correctly on the screen.

Access in: Side Menu > Reports > PBI > Operating Hours > Efficiency Report

### 2.1.2 Records – Equipment

Adjustment made on the Equipment Type screen, in the columns "Generates State Contour" and "Generates Trail", enabling the display of the status of the irrigation sensors on the Map screen.

Access in: Side menu > Records > Equipment > Equipment Type

### 2.1.3 Tools Integration – Extraction Inventory Report

Correction applied to the extraction of the Inventory Report from the Integration Module, allowing the report to be exported correctly.

Access in: Side Menu > Tools > Integration > Integration



+55 (18) 3622-2270
Av. Brasília, 2.121 - Edif. New York Tower
Jardim Nova York - Araçatuba/SP

### 2.1.4 CDA Panel – Pagination

An adjustment was made to the CDA Panel, where the pagination passes the correct page before making the request. A loading bar was also added when changing the number of items that appear in the table or changing the page.

Access in: Upper Menu > CDA Panel

### 2.1.5 PBI Report Scheduler V2 – Translation

Adjustment made in the Translation of the "PBI Report Scheduler V2", so that the screen is displayed correctly according to the language selected in the SGPA Environment.

Access in: Side Menu > Reports > Report Scheduler PBI V2

### 2.1.6 Records – Automatic Operations

Adjustment made on the Automatic Operations screen to allow the correct export of the operations data.

Access in: Side Menu > Records > Operation > Automatic Operations

### 2.1.7 Monit+ - Alarms

Adjustment applied to the alarms screen of the Monit+ equipment pop-up, making the Checkbox that selects all alarms work correctly by checking and unchecking records.

Access in: Top Menu > Monit+ > Pop-up of a device > Alarms > Checkbox > Select all alarms.



+55 (18) 3622-2270
Av. Brasília, 2.121 - Edif. New York Tower
Jardim Nova York - Araçatuba/SP

### 2.1.8 Operation – Operation Parameters

Adjustment made in the Operation Parameters registration tab, where the unit of measurement present in all fields containing the Yield parameter (ha/h) was standardized.

Access in: Side Menu > Operation > Operating Parameters > Edit an item > Conditions on Map

### 2.1.9 Maps Interpolation - Falling Seeds

An adjustment was made in the processing of Seed Fall, of the Interpolation Map Seeds per hectare, which made it possible to process the accumulated data.

Accessed in: Top Menu > Maps > Interpolation > Seeds per Acres

If you have any questions or other clarifications, please contact us via email suporte@solinftec.com.br or call +55 18 3622 2270.



+55 (18) 3622-2270
Av. Brasília, 2.121 - Edif. New York Tower
Jardim Nova York - Araçatuba/SP